wardetal.2018.ECOGEM.SPIN

Alexandre Pohl, University California Riverside

March 25, 2020

List of Figures

1 wardetal.2018.ECOGEM.SPIN_grid_topo 1
2 wardetal.2018.ECOGEM.SPIN_phys_wspeed 2
3 wardetal.2018.ECOGEM.SPIN_SSS 3
4 wardetal.2018.ECOGEM.SPIN_SST_SIfrac50perc 4
5 wardetal.2018.ECOGEM.SPIN_lat_ocn_temp 5
6 wardetal.2018.ECOGEM.SPIN_latSST 6
7 wardetal.2018.ECOGEM.SPIN_phys_seaice_fraction 7
8 wardetal.2018.ECOGEM.SPIN_phys_opsi 8
9 wardetal.2018.ECOGEM.SPIN_phys_cost 9
10 wardetal.2018.ECOGEM.SPIN_phys_psi 10
11 wardetal.2018.ECOGEM.SPIN_bio_export_POC 11
12 wardetal.2018.ECOGEM.SPIN_ocn_PO4 12
13 wardetal.2018.ECOGEM.SPIN_O2_deep 13
14 wardetal.2018.ECOGEM.SPIN_O2_deep_shallowpfonly400m 14
15 wardetal.2018.ECOGEM.SPIN_zonal_O2 15
16 wardetal.2018.ECOGEM.SPIN_O2_lev 16
17 wardetal.2018.ECOGEM.SPIN_zonal_H2S 17
18 wardetal.2018.ECOGEM.SPIN_H2S_lev 18
19 wardetal.2018.ECOGEM.SPIN_d13C_DIC_surface 19
20 wardetal.2018.ECOGEM.SPIN_zonal_d13C_DIC 20
21 wardetal.2018.ECOGEM.SPIN_ocn_DIC_13C_lev 21

This PDF is an output of basicdiag_genie_toPDF.py.

Please note that for phys_opsi and phys_psi, differences are actually differences of absolute values since signs are otherwise confusing.

Year plotted: 9999.5
Global SAT: 12.406°C
Seafloor anoxic area: 17.31 Mkm^2
Seafloor anoxic area percentage: 4.7 %

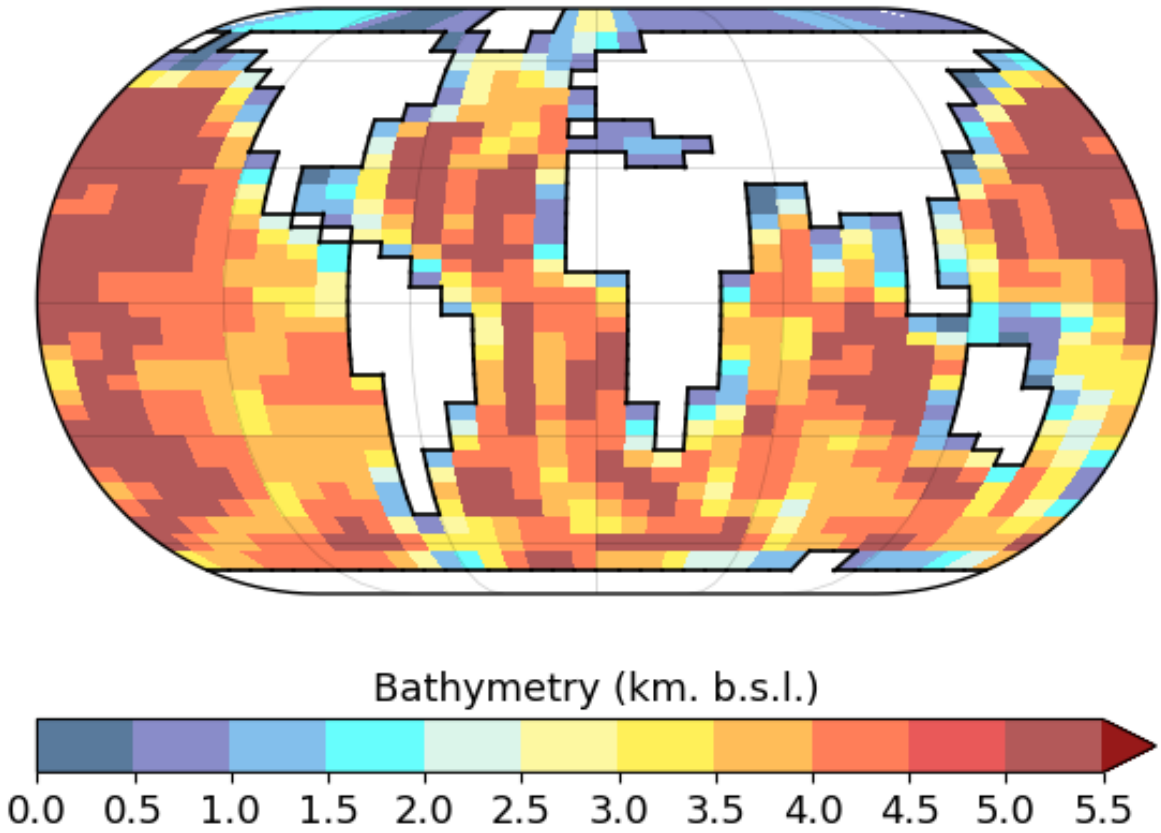

Figure 1: wardetal.2018.ECOGEM.SPIN_grid_topo

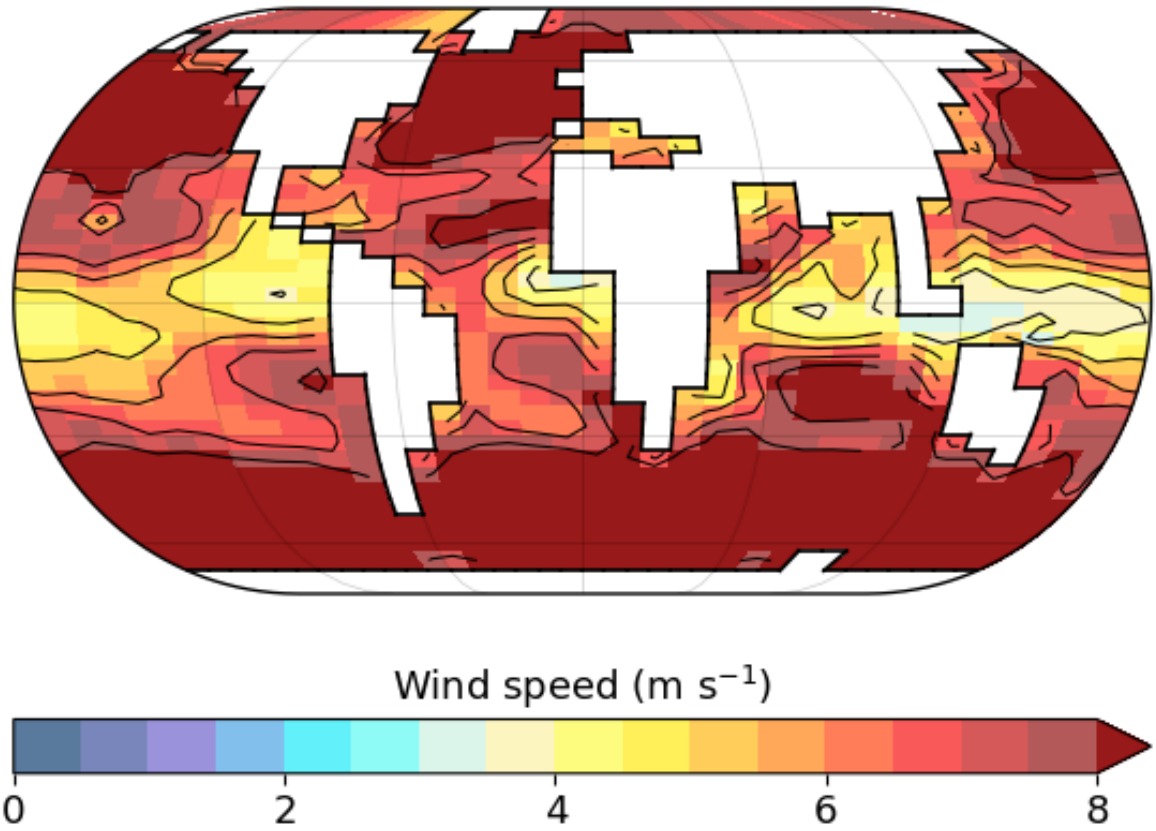

Figure 2: wardetal.2018.ECOGEM.SPIN_phys_wspeed

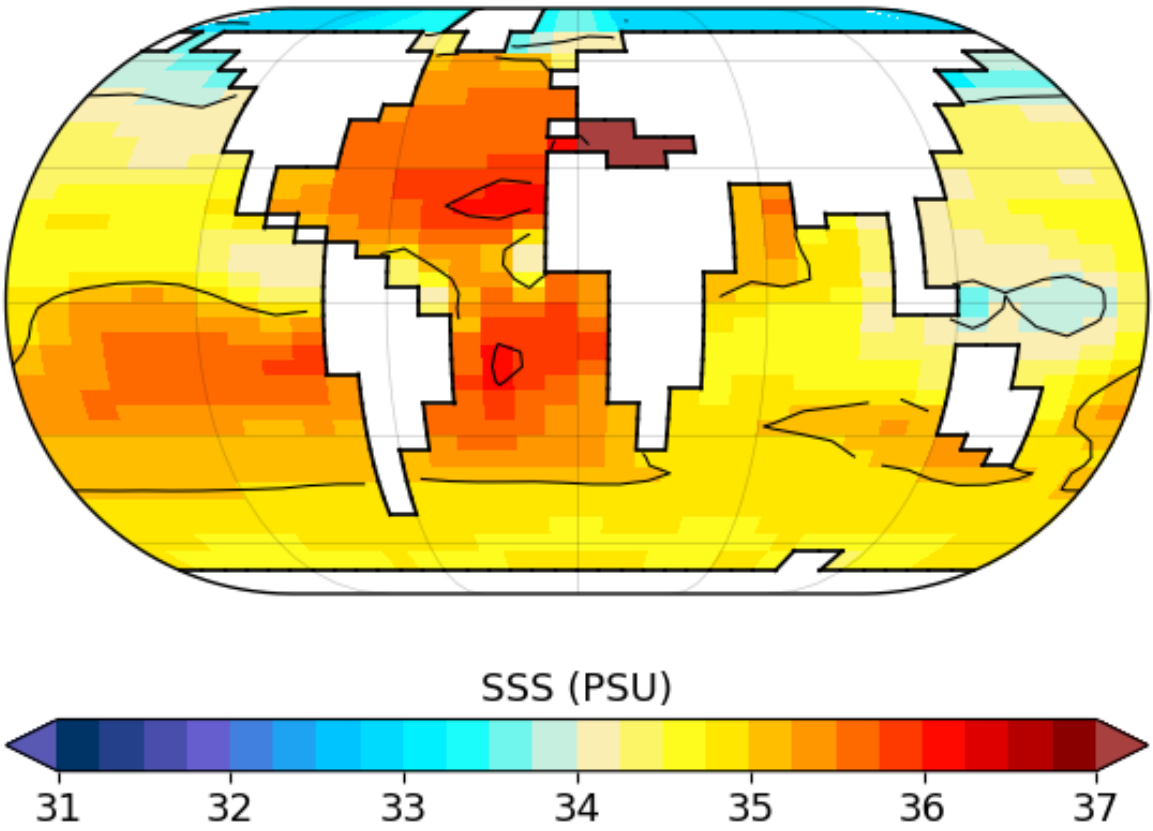

Figure 3: wardetal.2018.ECOGEM.SPIN_SSS

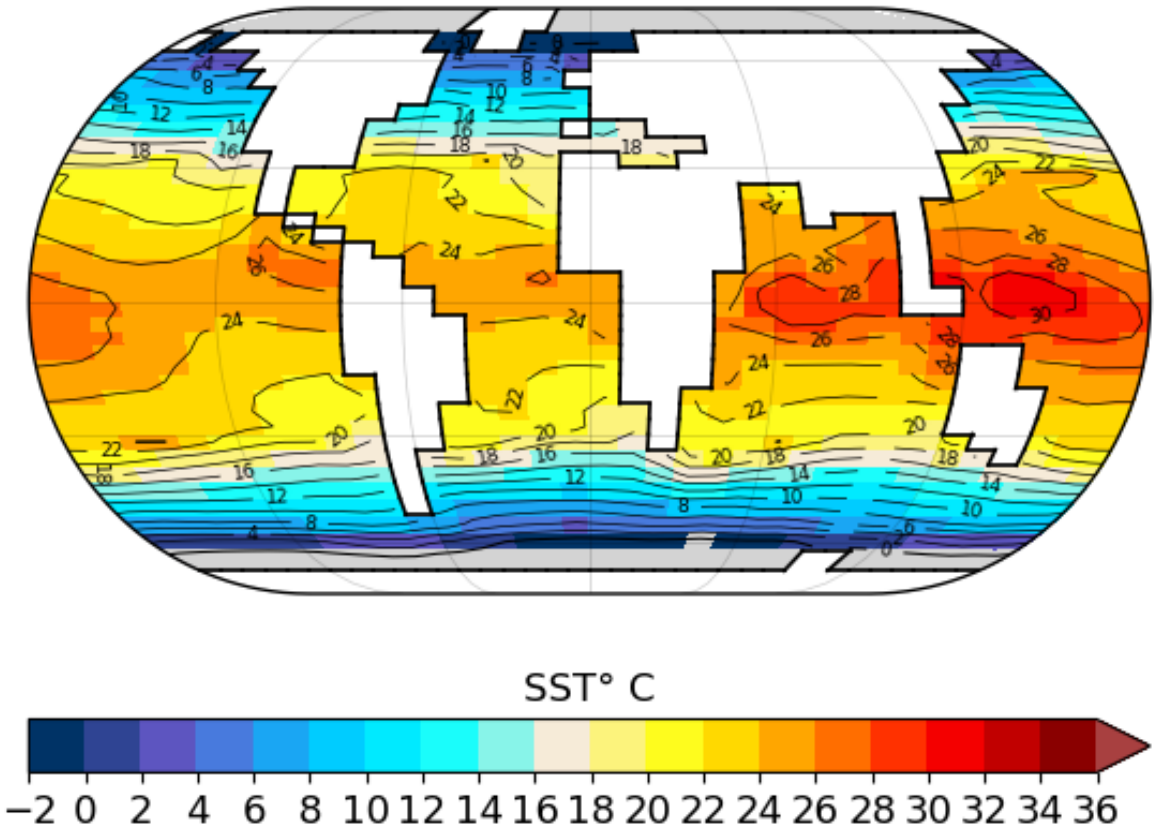

Figure 4: wardetal.2018.ECOGEM.SPIN_SST_SIfrac50perc

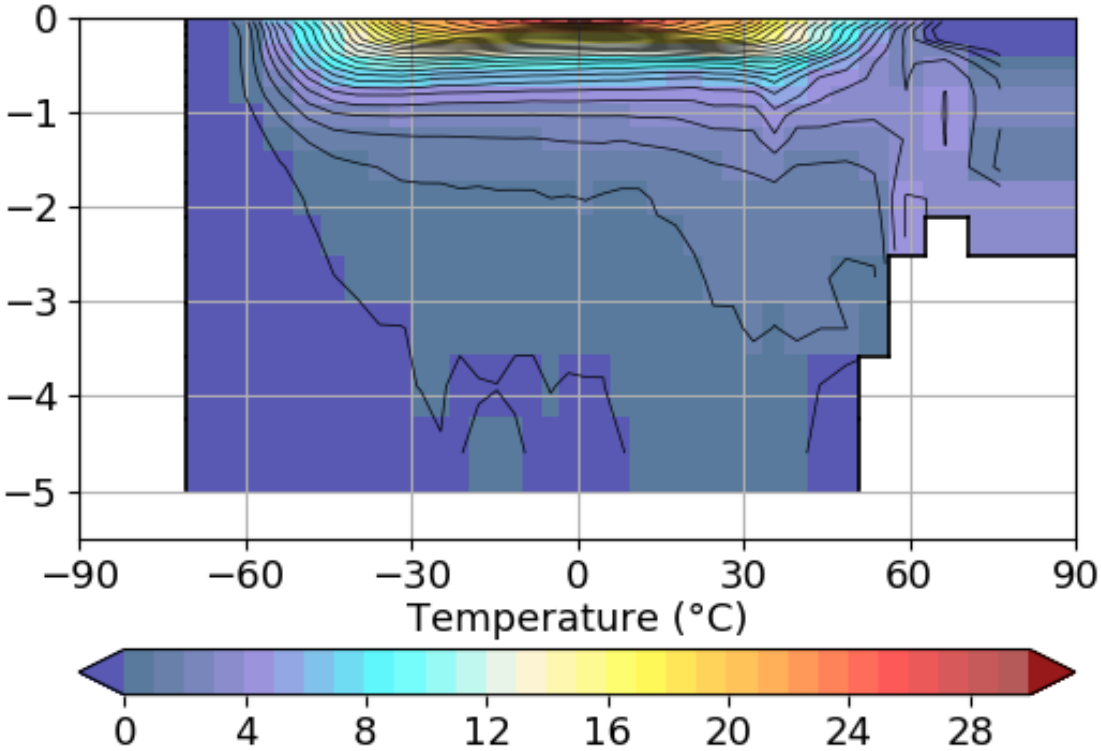

Figure 5: wardetal.2018.ECOGEM.SPIN_lat_ocn_temp

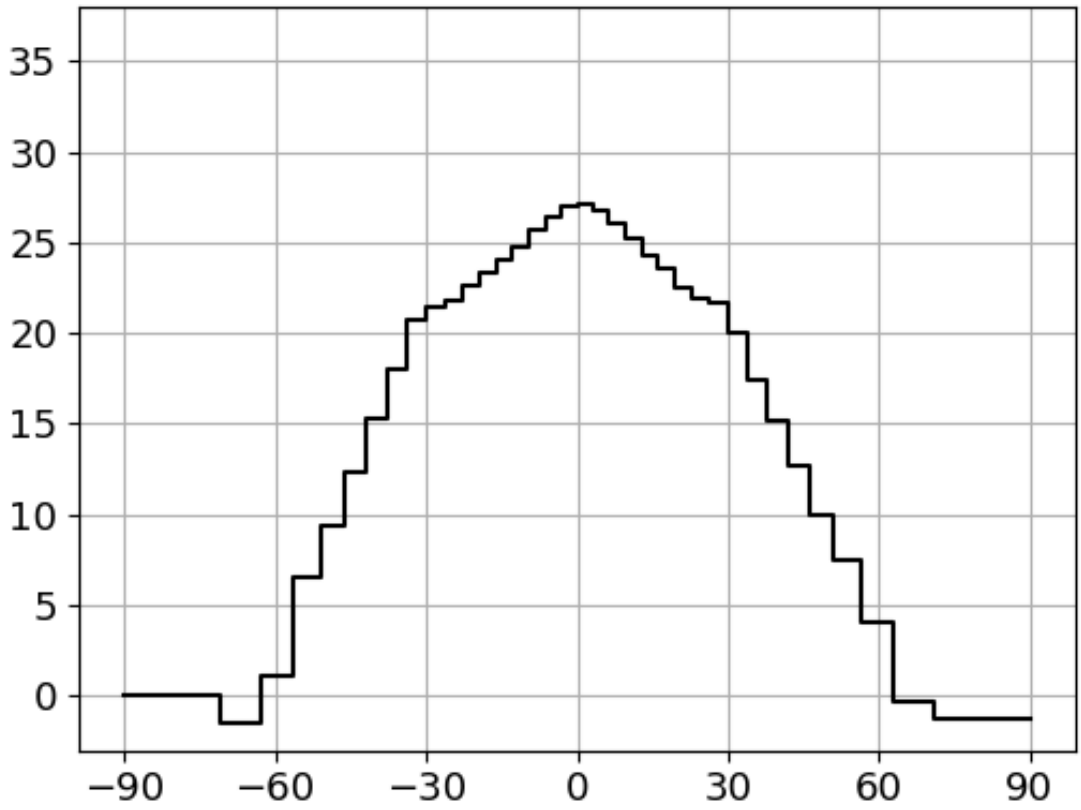

Figure 6: wardetal.2018.ECOGEM.SPIN_latSST

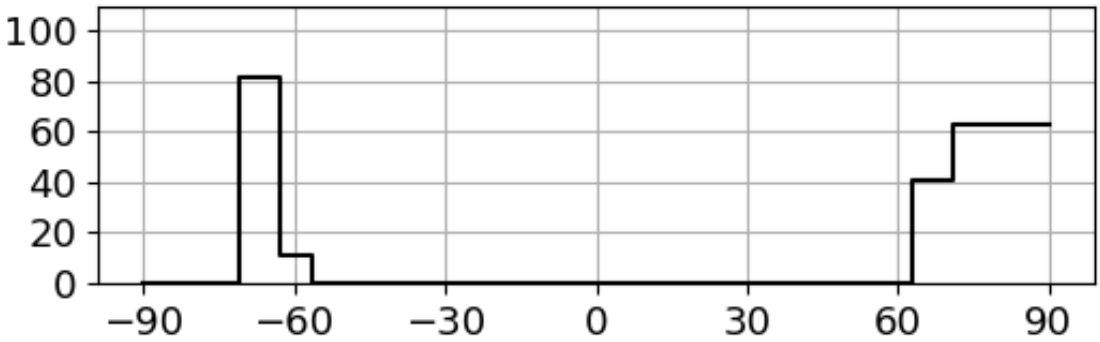

Figure 7: wardetal.2018.ECOGEM.SPIN_phys_seaice_fraction

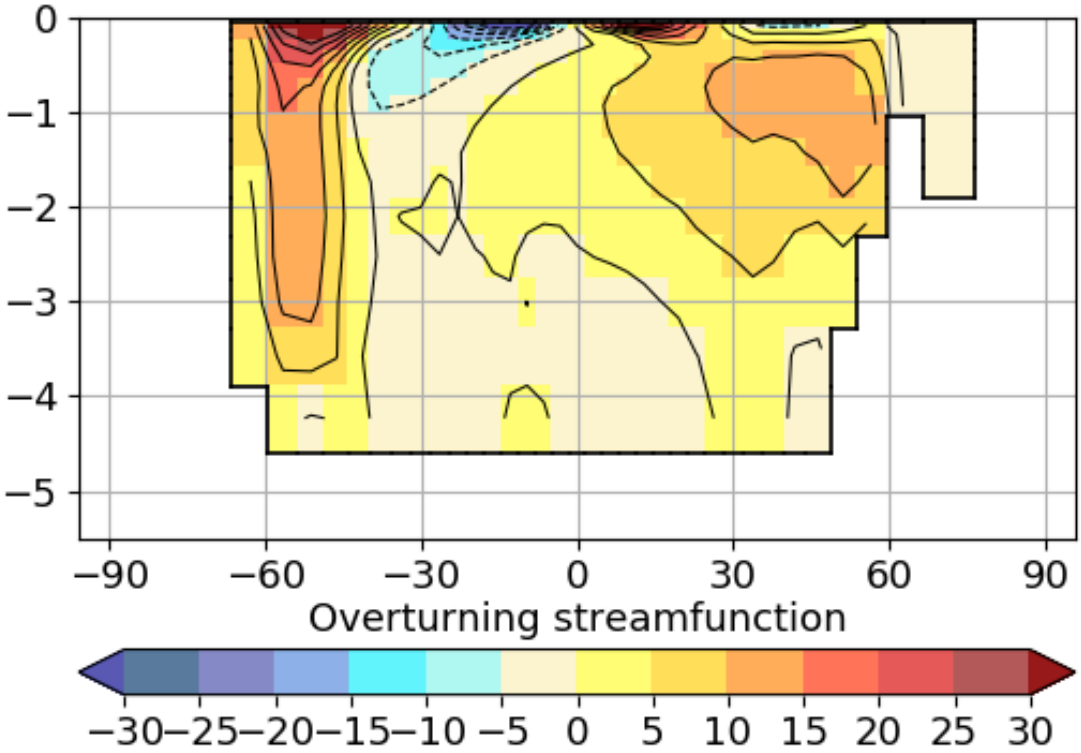

Figure 8: wardetal.2018.ECOGEM.SPIN_phys_opsi

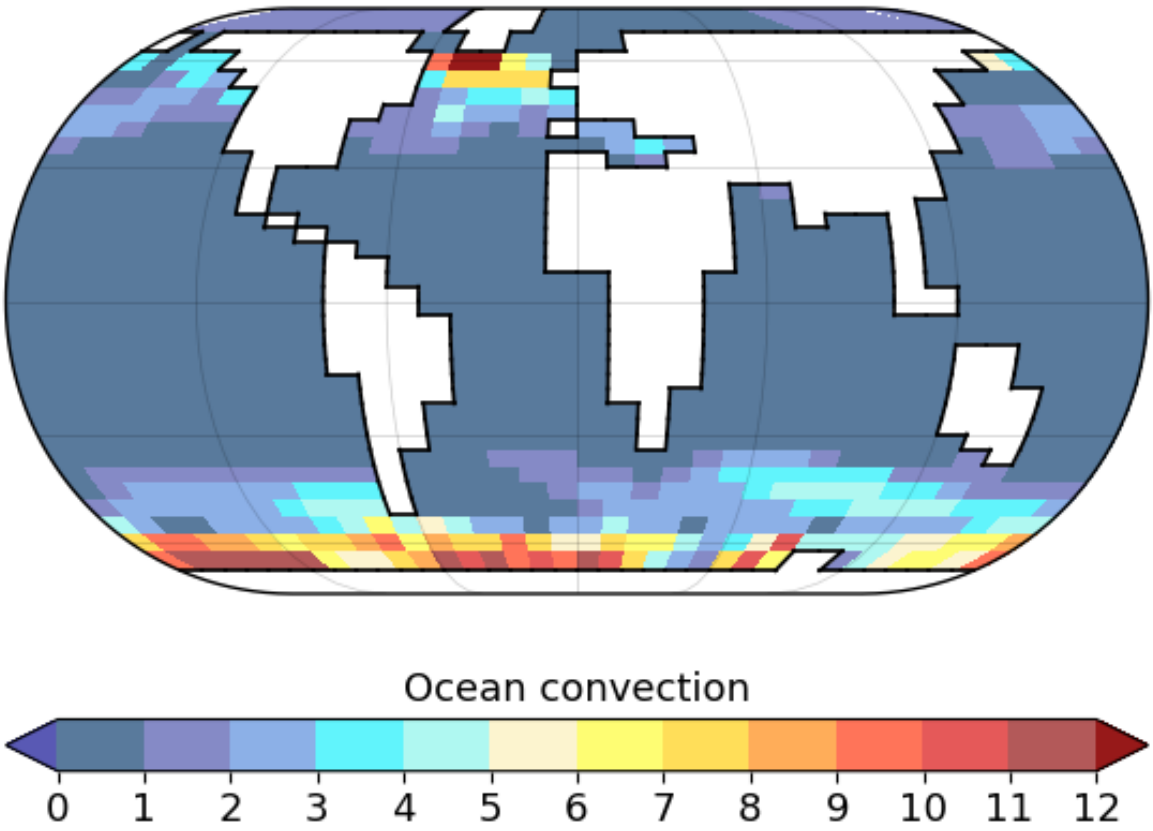

Figure 9: wardetal.2018.ECOGEM.SPIN_phys_cost

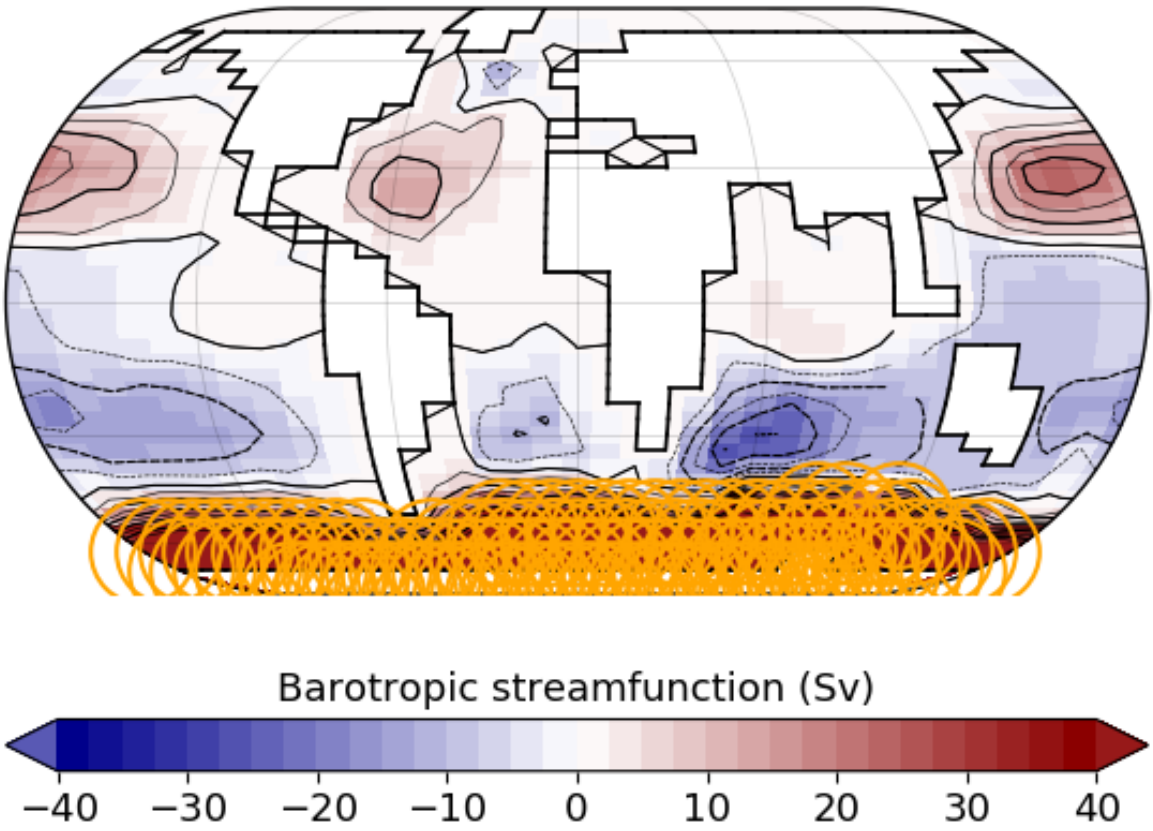

Figure 10: wardetal.2018.ECOGEM.SPIN_phys_psi

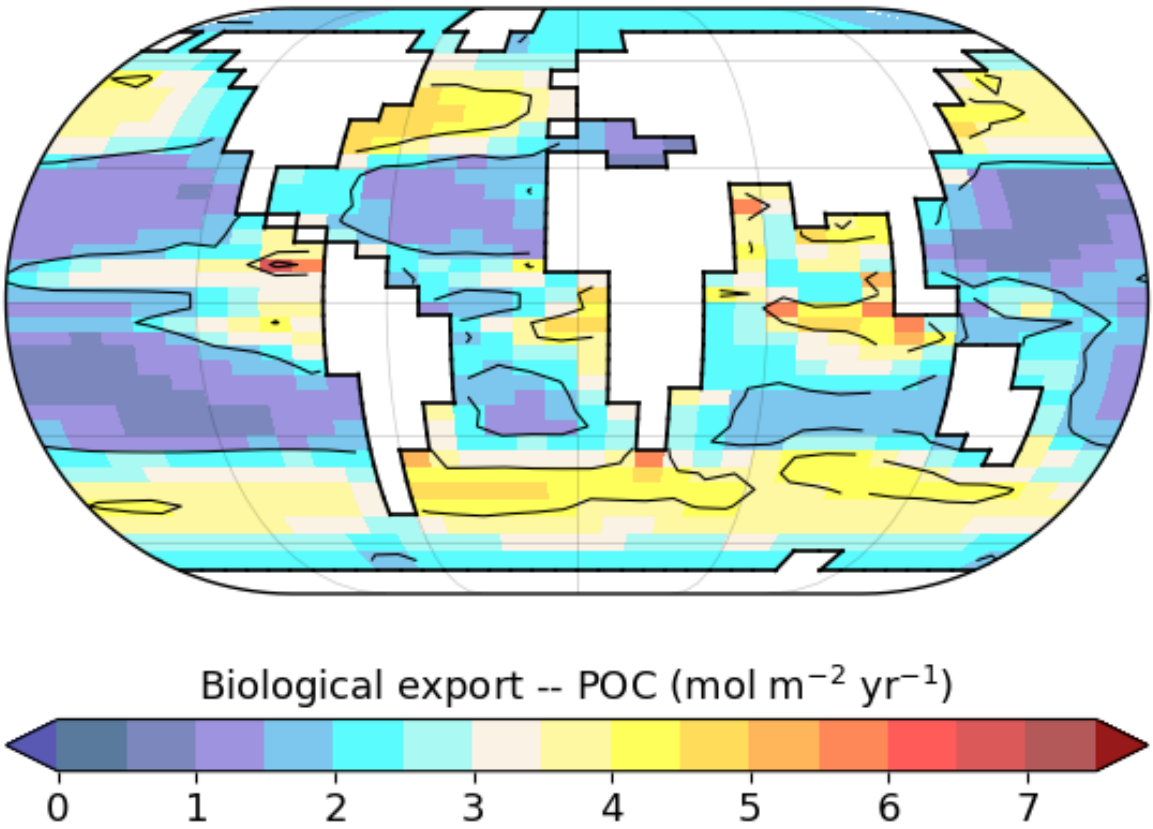

Figure 11: wardetal.2018.ECOGEM.SPIN_bio_export_POC

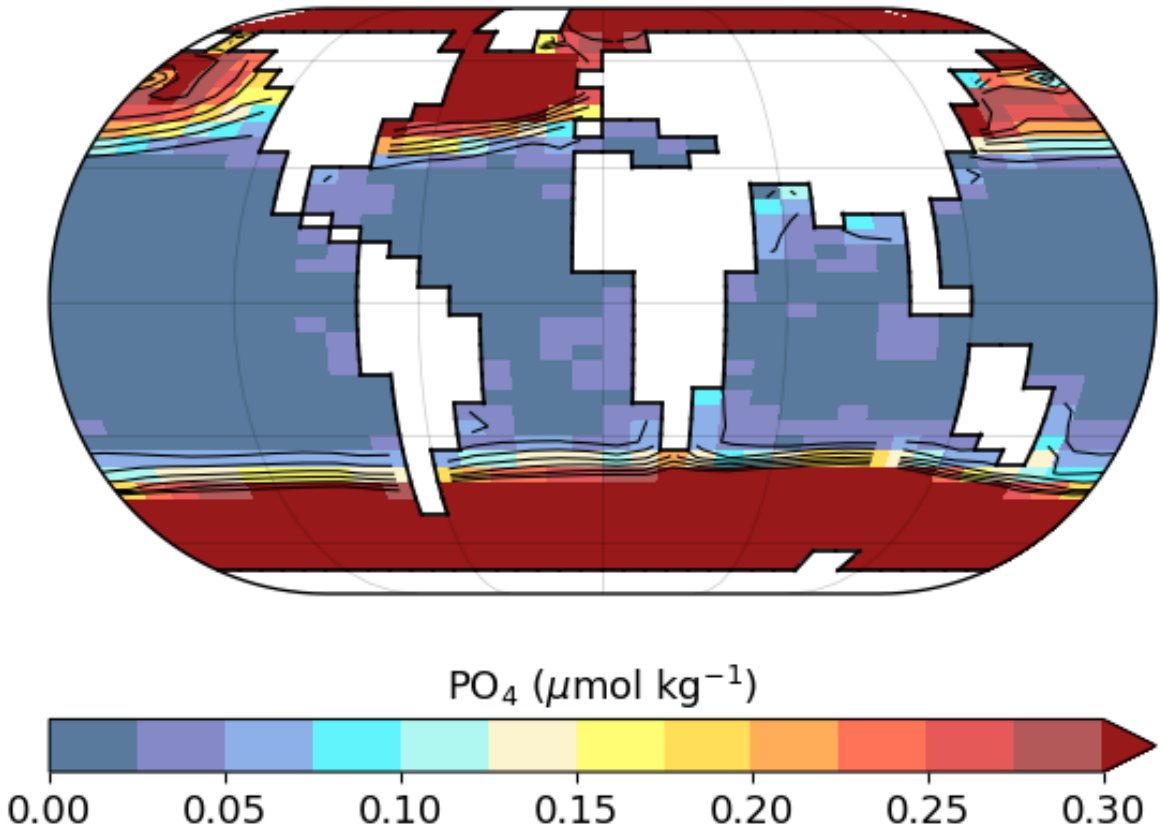

Figure 12: wardetal.2018.ECOGEM.SPIN_ocn_PO4

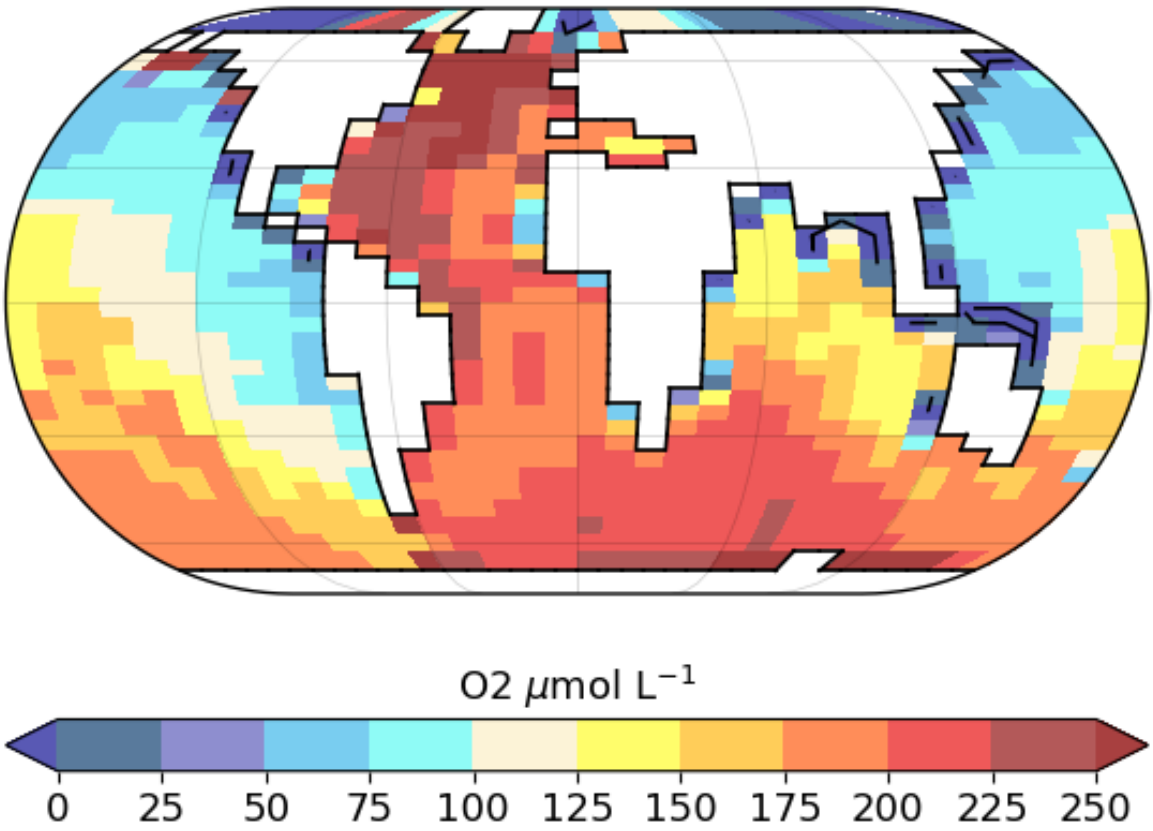

Figure 13: wardetal.2018.ECOGEM.SPIN_O2_deep

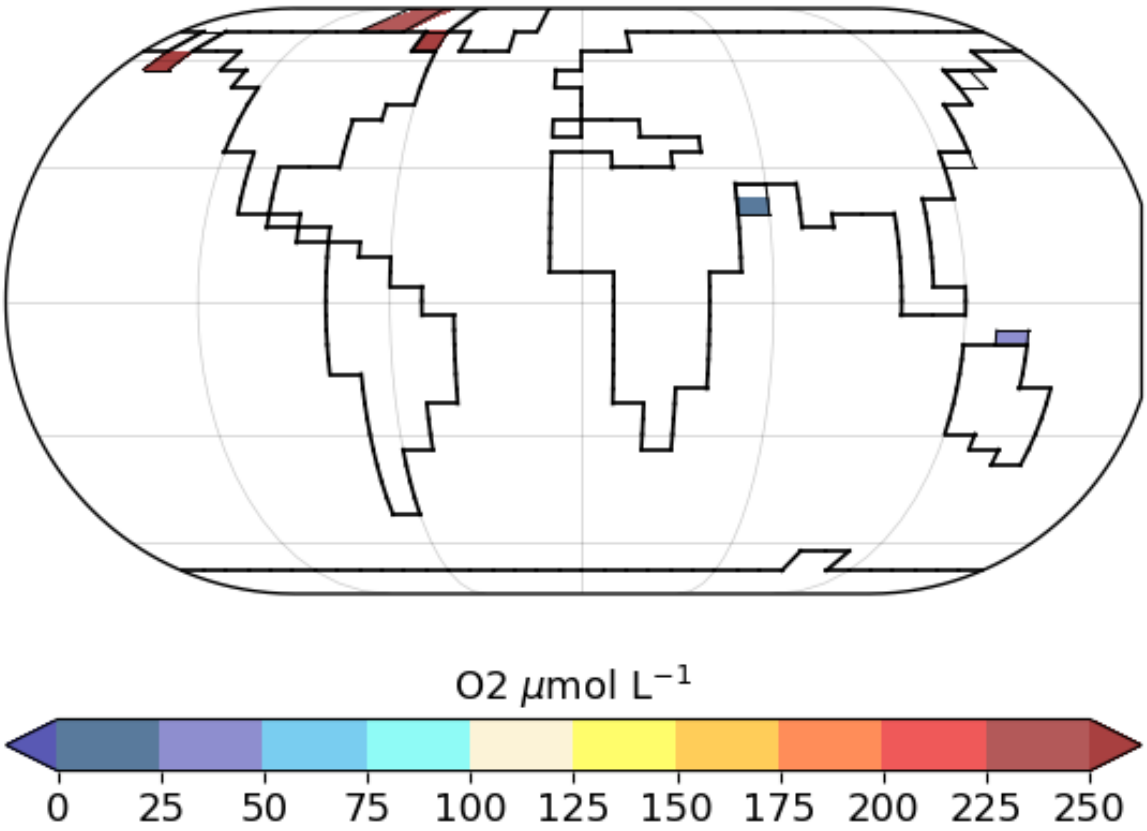

Figure 14: wardetal.2018.ECOGEM.SPIN_O2_deep_shallowpfonly400m

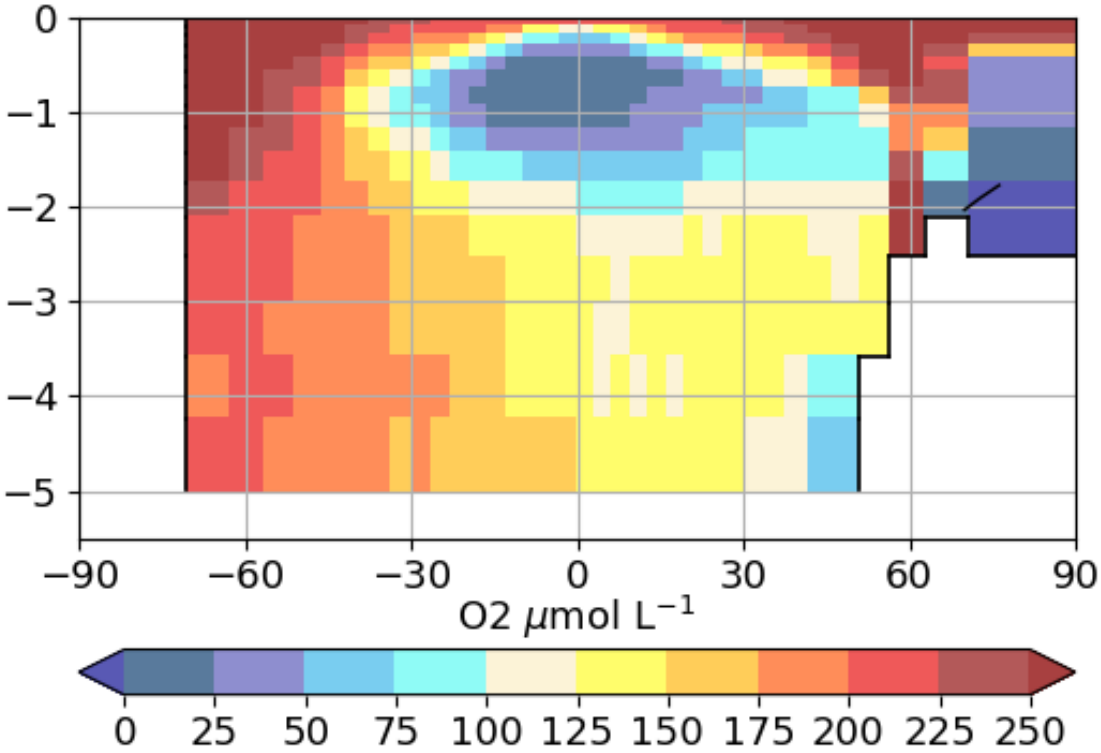

Figure 15: wardetal.2018.ECOGEM.SPIN_zonal_O2

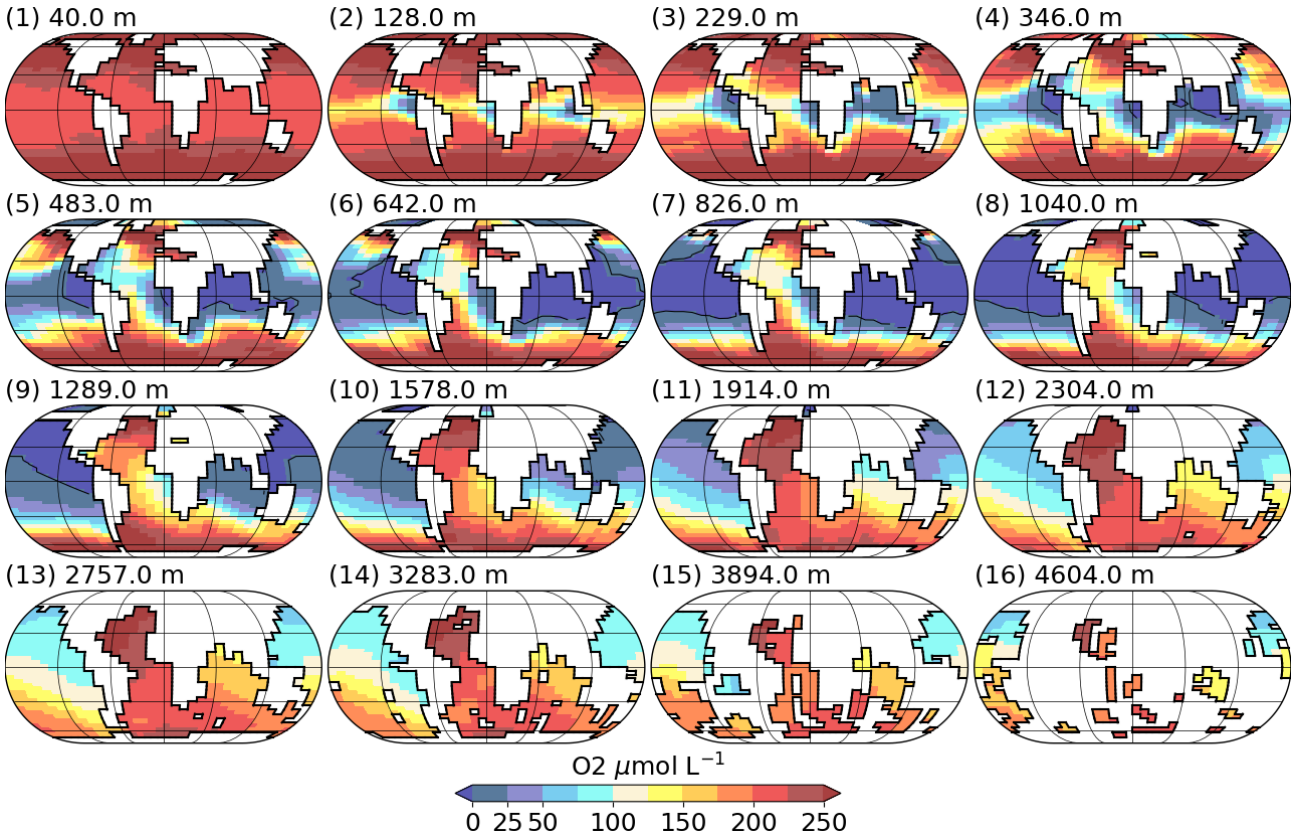

Figure 16: wardetal.2018.ECOGEM.SPIN_O2_lev

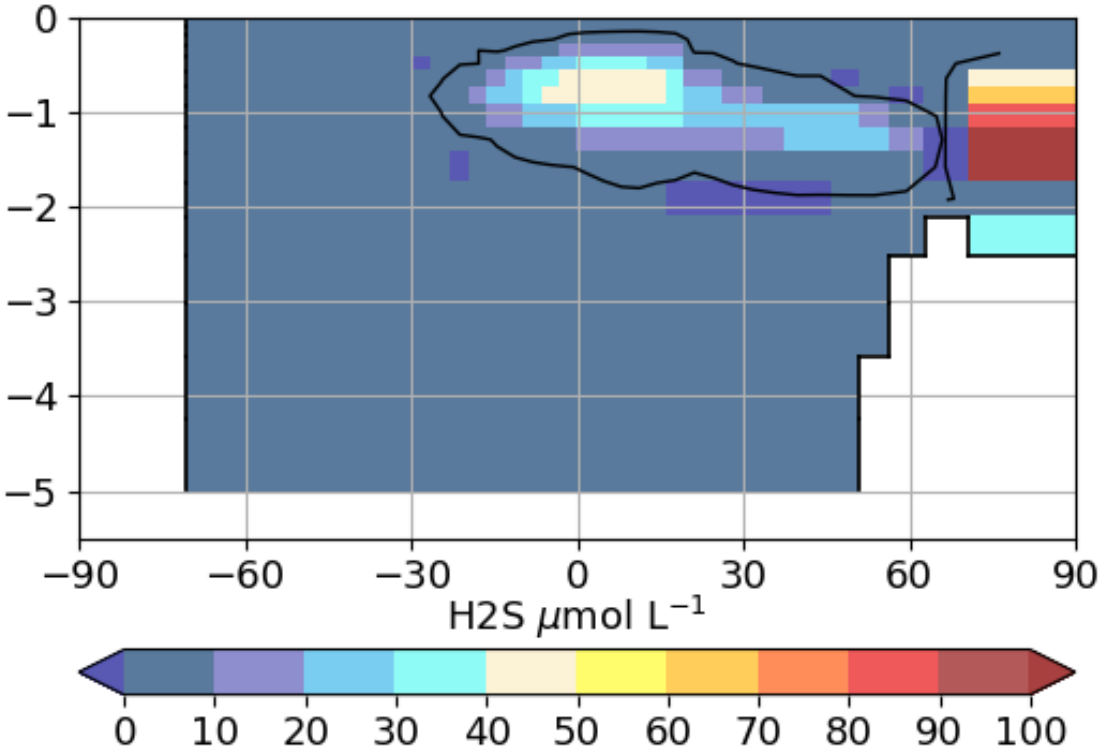

Figure 17: wardetal.2018.ECOGEM.SPIN_zonal_H2S

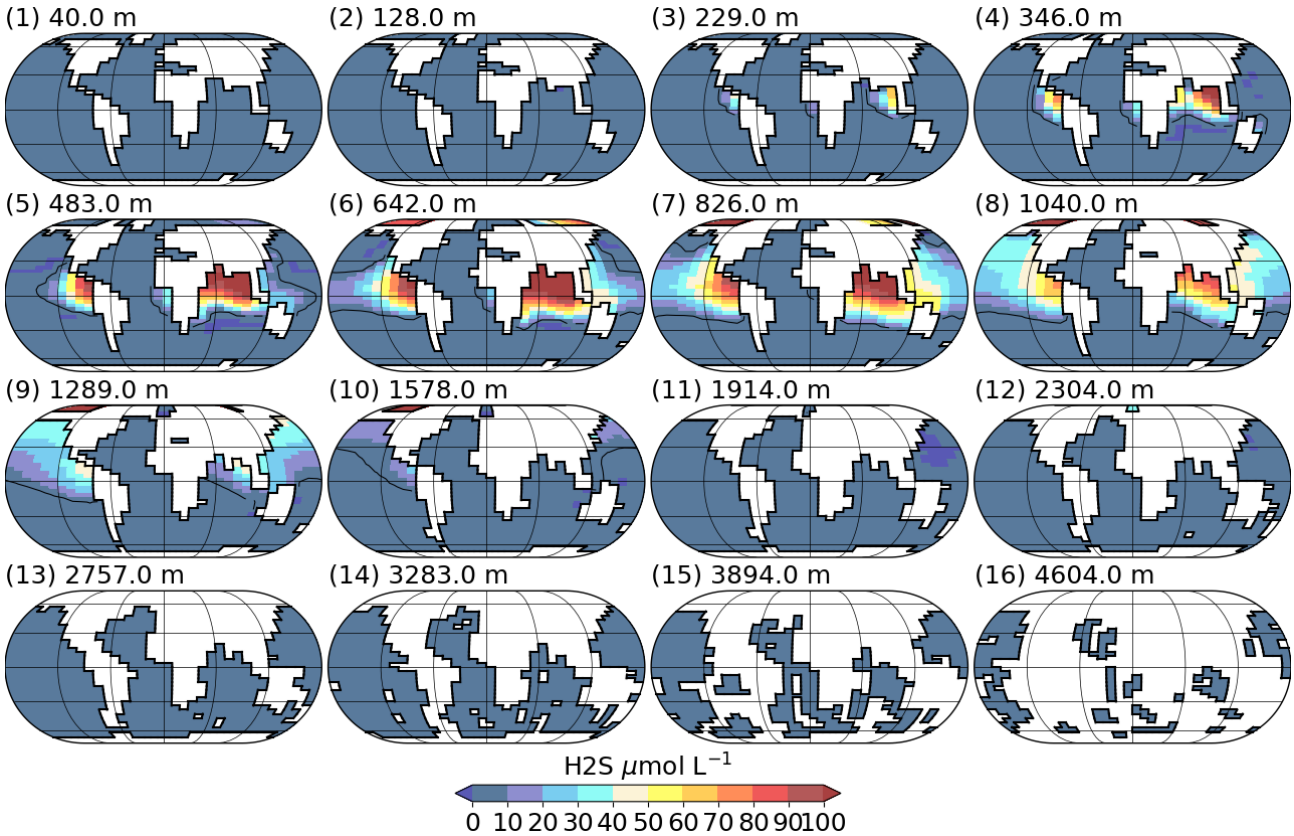

Figure 18: wardetal.2018.ECOGEM.SPIN_H2S_lev

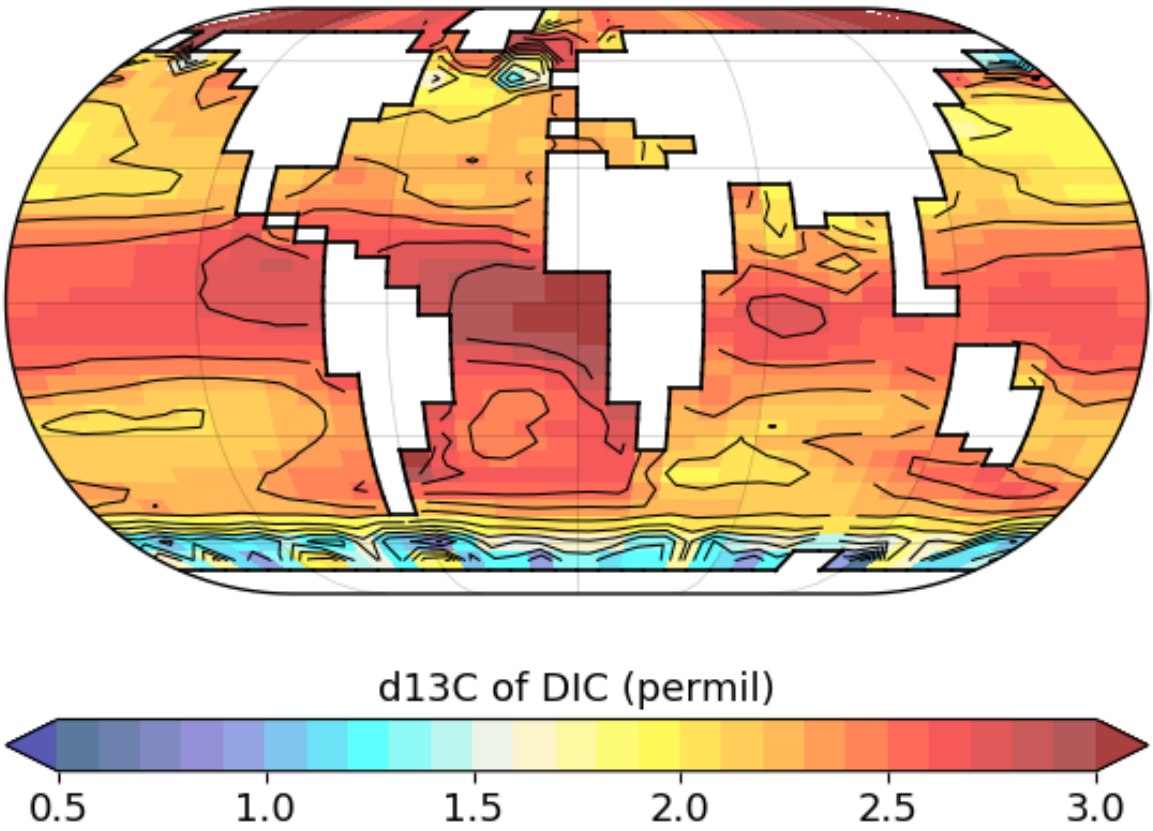

Figure 19: wardetal.2018.ECOGEM.SPIN_d13C_DIC_surface

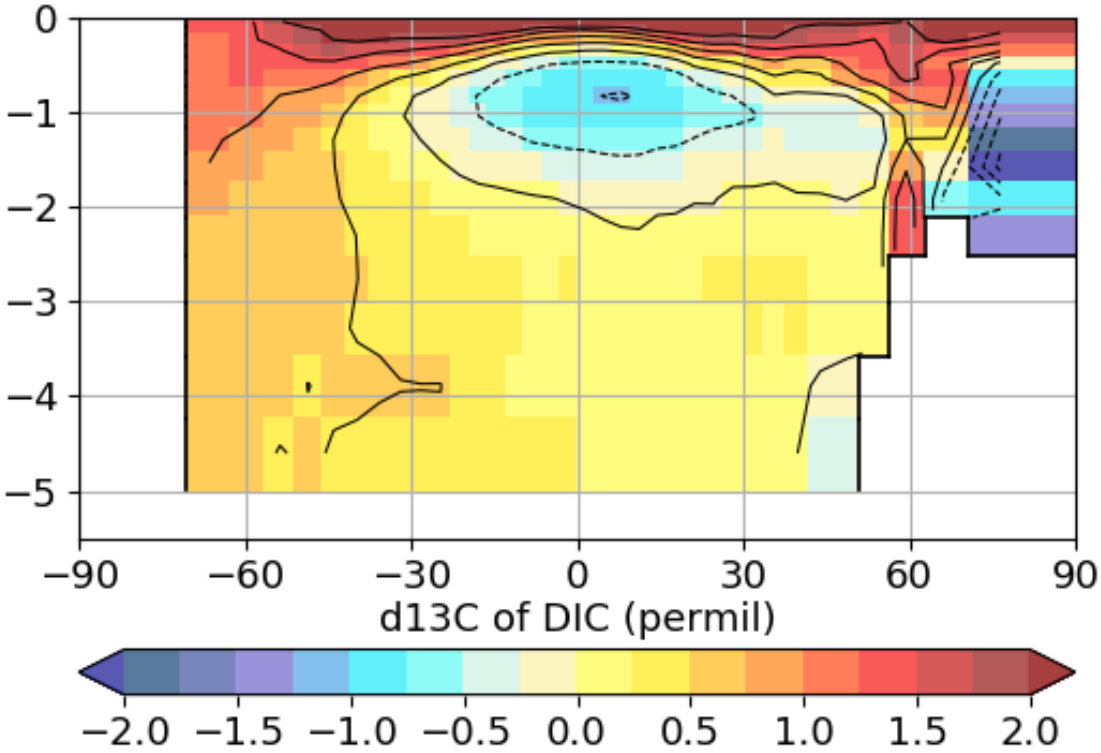

Figure 20: wardetal.2018.ECOGEM.SPIN_zonal_d13C_DIC

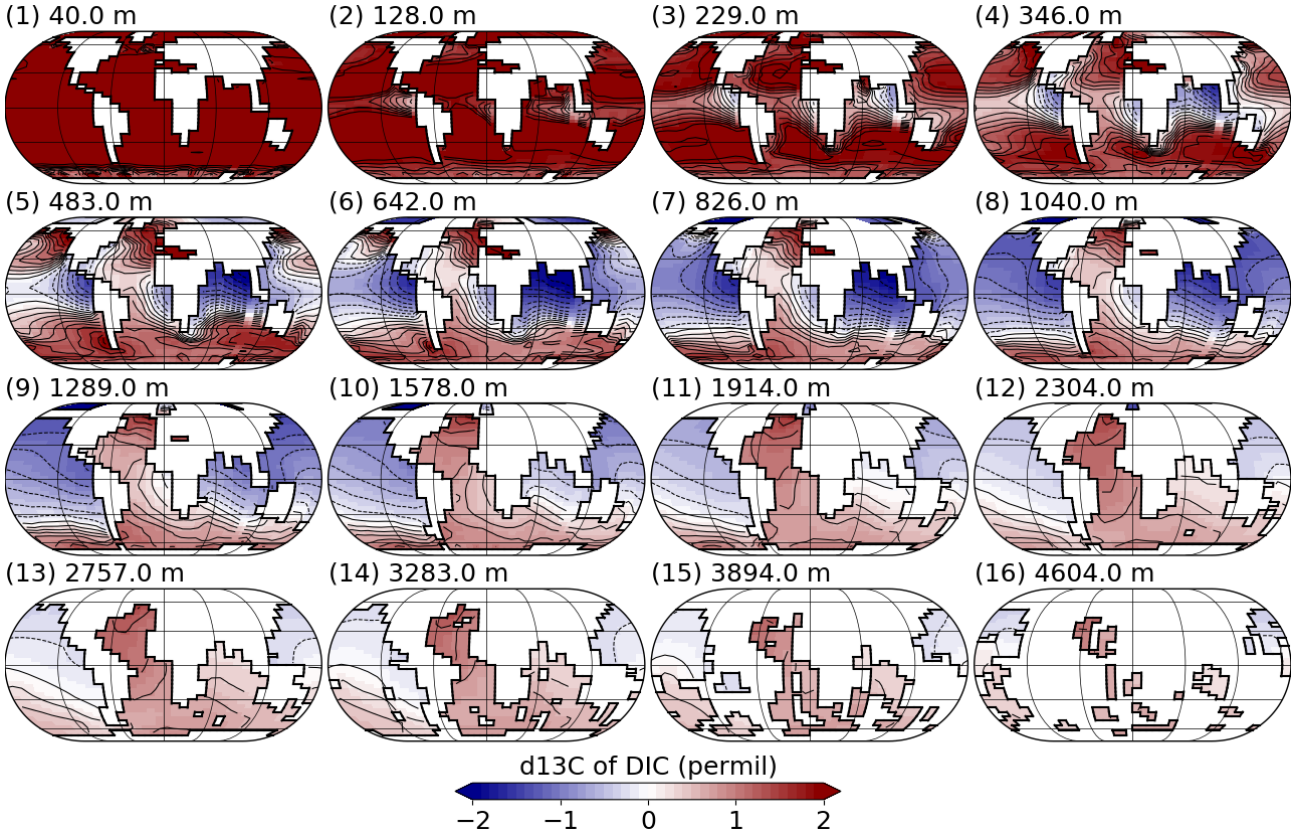

Figure 21: wardetal.2018.ECOGEM.SPIN_ocn_DIC_13C_lev